1:25 000 Scale
Explorer Series

Four colours should appear above; if not then please return to the invigilator.

Four colours should appear above; if not then please return to the invigilator.

Extract No 2305/OL5

ROADS AND PATHS **Not necessarily rights of way**

- M1 or A6(M) Motorway; Service Area; 7 Junction Number
- A 35 Dual carriageway
- A 30 Main road
- B 3074 Secondary road
- Narrow road with passing places
- Road under construction
- Road generally more than 4 m wide
- Road generally less than 4 m wide
- Other road, drive or track, fenced and unfenced
- Gradient: steeper than 20% (1 in 5) 14% (1 in 7) to 20% (1 in 5)
- Ferry Ferry; Ferry P – passenger only
- Path

RAILWAYS

- Multiple track / Single track } Standard gauge
- Narrow gauge or Light Rapid Transit System (LRTS) and station
- Road over; road under; level crossing
- Cutting; tunnel; embankment
- Station, open to passengers; siding

PUBLIC RIGHTS OF WAY **Not shown on maps of Scotland**

- Footpath
- Bridleway
- Byway open to all traffic
- Restricted byway-not for use by mechanically propelled vehicles

The representation on this map of any other road, track or path is no evidence of the existence of a right of way

OTHER PUBLIC ACCESS

- Other routes with public access

The exact nature of the rights on these routes and the existence of any restrictions may be checked with the local highway authority. Alignments are based on the best information available

- Recreational route
- National Trail / Long Distance Route
- Permissive footpath } See note below
- Permissive bridleway }

Footpaths and bridleways along which landowners have permitted public use but which are not rights of way. The agreement may be withdrawn.

- Traffic-free cycle route
- 1 1 National cycle network route number – traffic free; on road

BOUNDARIES

- National
- County (England)
- Unitary Authority (UA), Metropolitan District (Met Dist), London Borough (LB) or District (Scotland & Wales are solely Unitary Authorities)
- Civil Parish (CP) (England) or Community (C) (Wales)
- National Park

HISTORICAL FEATURES

- Site of antiquity
- 1066 Site of battle (with date)
- VILLA Roman
- Castle Non-Roman
- Visible earthwork

Information provided by English Heritage for England and the Royal Commissions on the Ancient and Historical Monuments for Scotland and Wales

GENERAL FEATURES

- Gravel pit
- Sand pit
- Other pit or quarry
- Landfill site or slag/spoil heap
- Slopes
- Place of worship
- Current or former place of worship – with tower – with spire, minaret or dome
- Building; important building
- Glasshouse
- Youth hostel
- Bunkhouse / camping barn / other hostel
- Bus or coach station
- Lighthouse; disused lighthouse;
- Beacon
- Triangulation pillar
- Mast
- Windmill; with or without sails
- Wind pump; wind turbine
- pylon pole Electricity transmission line

BP	Boundary post
BS	Boundary stone
CG	Cattle grid
CH	Clubhouse
FB	Footbridge
MP; MS	Milepost; milestone
Mon	Monument
PO	Post office
Pol Sta	Police station
Sch	School
TH	Town hall
NTL	Normal tidal limit
W; Spr	Well; spring

HEIGHTS AND NATURAL FEATURES

- 52 · Ground survey height
- 284 · Air survey height

Surface heights are to the nearest metre above mean sea level. Where two heights are shown, the first height is to the base of the triangulation pillar and the second (in brackets) to the highest natural point of the hill

Vertical face/cliff; 75 60 50; Boulders; Loose rock; Outcrop; Scree

- Water; mud
- Sand; sand and shingle

VEGETATION

Vegetation limits are defined by positioning of symbols

- Coniferous trees
- Non-coniferous trees
- Coppice
- Orchard
- Scrub
- Bracken, heath or rough grassland
- Marsh, reeds or saltings

ACCESS LAND

- DANGER AREA Firing and test ranges in the area. Danger! Observe warning notices
- MANAGED ACCESS Access permitted within managed controls, for example, local byelaws.

England and Wales

- Access land boundary and tint
- Access land in wooded area
- Access information point

Portrayal of access land on this map is intended as a guide to land which is normally available for access on foot, for example access land created under the Countryside and Rights of Way Act 2000, and land managed by the National Trust, Forestry Commission and Woodland Trust.

Access for other activities may also exist. Some restrictions will apply; some land will be excluded from open access rights.

The depiction of rights of access does not imply or express any warranty as to its accuracy or completeness. Observe local signs and follow the Countryside Code.

Scotland

- National Trust for Scotland, always open
- National Trust for Scotland, limited access – observe local signs
- Forestry Commission Land
- Woodland Trust Land

In Scotland, everyone has access rights in law over most land and inland water, provided access is exercised responsibly (Land Reform [Scotland] Act 2003). **This includes walking, cycling, horse- riding and water access, for recreational and educational purposes, and for crossing land or water.** Access rights do not apply to motorised activities, hunting, shooting or fishing, nor if your dog is not under proper control.

TOURIST AND LEISURE INFORMATION

- Building of historic interest
- Boat trips
- Boat hire
- Cadw (Welsh heritage)
- Camp site/Caravan site
- Castle / fort
- Cathedral / Abbey
- Craft Centre
- Country park
- Cycle hire
- Cycle trail
- English Heritage property
- Fishing
- Forestry Commission visitor centre
- Garden / arboretum
- Golf course or links
- Historic Scotland
- Information centre, seasonal
- Horse riding
- Museum
- Mountain bike trail
- Nature reserve
- National Trust property
- Other tourist feature
- P P&R P&R Parking / Park and ride, all year / seasonal
- Picnic site
- Preserved railway
- PC Public Convenience
- Public house/s
- Recreation / leisure / sports centre
- Slipway
- Telephone (public / roadside assistance/ emergency)
- Theme / pleasure park
- Viewpoint
- V Visitor centre
- Walks / trails
- Water activites
- World Heritage site or area

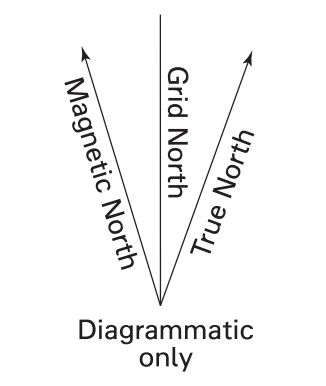

Grid North
Magnetic North
True North
Diagrammatic only

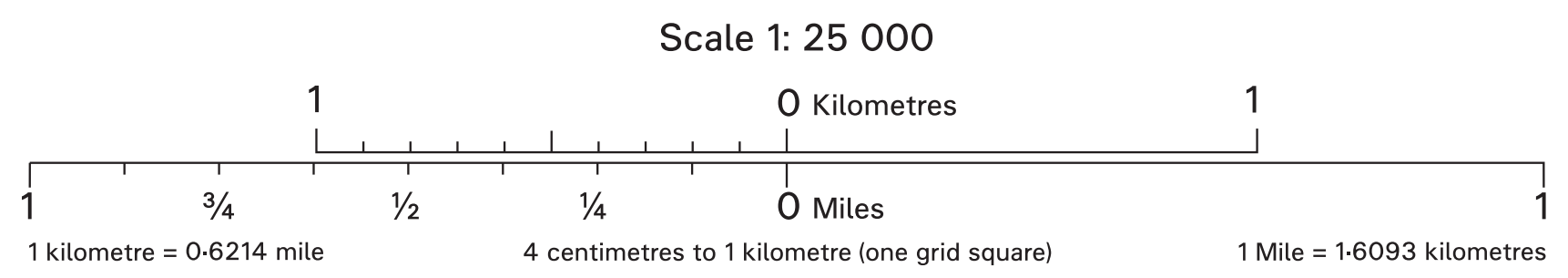

Scale 1: 25 000
1
0 Kilometres
1
1
¾
½
¼
0 Miles
1
1 kilometre = 0·6214 mile
4 centimetres to 1 kilometre (one grid square)
1 Mile = 1·6093 kilometres

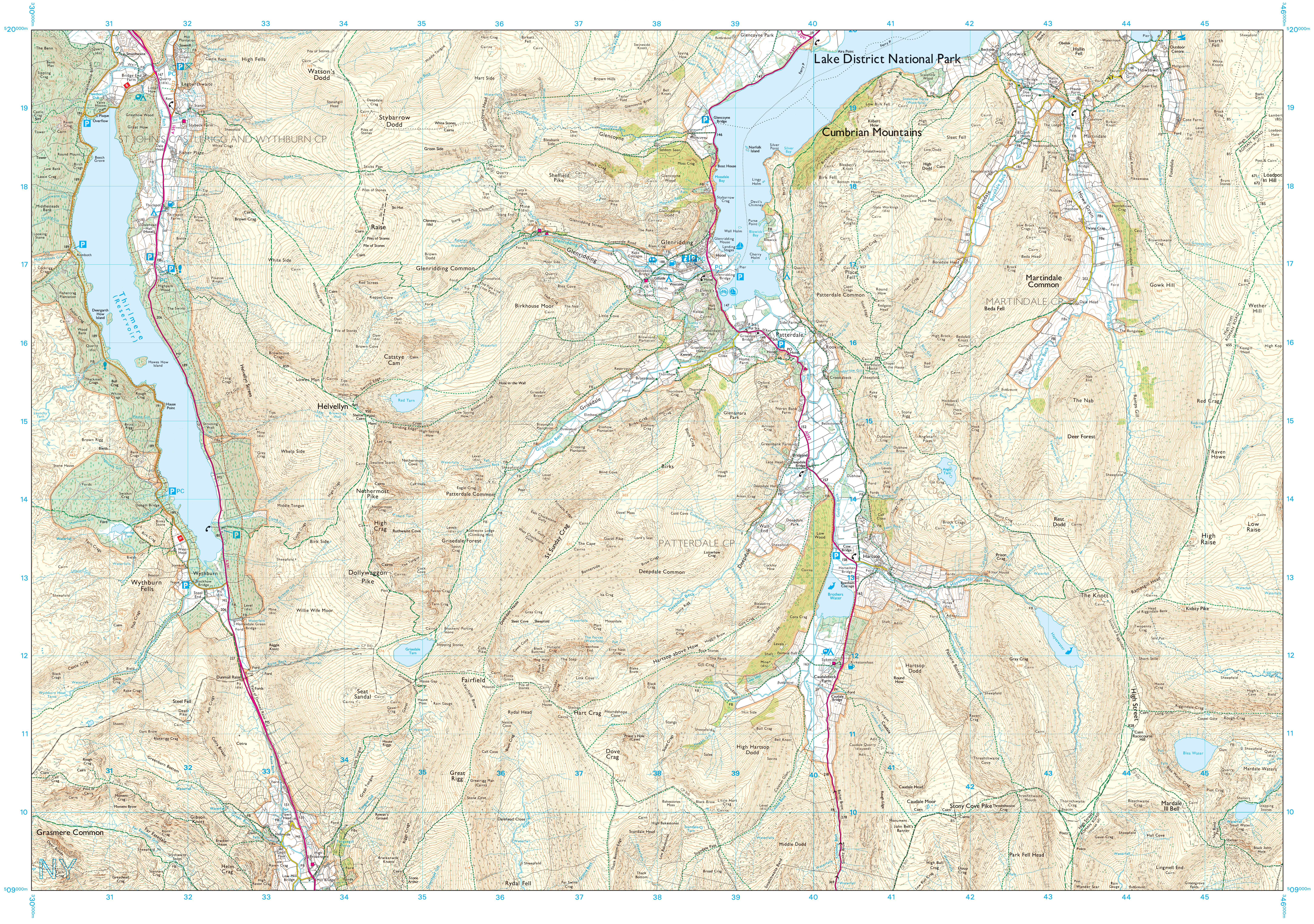

330000m
3460000m
520000m
509000m
31
32
33
34
35
36
37
38
39
40
41
42
43
44
45
19
18
17
16
15
14
13
12
11
10
Lake District National Park
Cumbrian Mountains
ST JOHN'S CASTLERIGG AND WYTHBURN CP
PATTERDALE CP
MARTINDALE CP
Thirlmere (Reservoir)
Helvellyn
Watson's Dodd
Stybarrow Dodd
Raise
Catstye Cam
Glenridding
Glenridding Common
Glencoyne
Sheffield Pike
Birkhouse Moor
Patterdale
Patterdale Common
Grisedale
Nethermost Pike
High Crag
Dollywaggon Pike
Grisedale Forest
Grisedale Tarn
Red Tarn
Seat Sandal
Fairfield
Great Rigg
Rydal Fell
Hart Crag
Dove Crag
St Sunday Crag
Deepdale Common
Hartsop
Brothers Water
High Hartsop Dodd
Hartsop Dodd
Gray Crag
Hayeswater
The Knott
Rest Dodd
High Raise
Low Raise
Kidsty Pike
High Street
Blea Water
Mardale Ill Bell
Stony Cove Pike
Caudale Moor
Park Fell Head
Martindale Common
Beda Fell
Place Fell
Boredale
Bannerdale
Howe Grain
Martindale
Sandwick
Howtown
Hallin Fell
Deer Forest
The Nab
Gowk Hill
Wether Hill
Loadpot Hill
Red Crag
Raven Howe
Angle Tarn
Wythburn
Wythburn Fells
Steel Fell
Dunmail Raise
Grasmere Common
Whelp Side
Willie Wife Moor
Legburthwaite
High Fells
Glencoyne Park
Kirkstone Beck
A591
A592
A5091
B5322
NY

Extract produced by Ordnance Survey 2018.
© Crown copyright 2016. All rights reserved.

Ordnance Survey, OS, OS logos and Explorer are registered trademarks of Ordnance Survey Limited, Britain's mapping agency.
Reproduction in whole or in part by any means is prohibited without the prior written permission of Ordnance Survey Limited. **For educational use only.**

Looking for more resources? Visit scotpapers.com - Scotland's #1 Past Paper Archive