AH National Qualifications 2024

Geography
Global Issues and Geographical Skills
Ordnance Survey Map

TUESDAY, 23 APRIL
1:00 PM – 3:30 PM

The colours used in the printing of these map extracts are indicated in the four little boxes at the top of the map extract. Each box should contain a colour; if any does not, the map is **incomplete and should be returned to the Invigilator**

SQA ©

Four colours should appear above; if not then please return to the invigilator.

Four colours should appear above; if not then please return to the invigilator.

Ordnance Survey

ROADS AND PATHS

Not necessarily rights of way

- M1 or A6(M) Motorway
- Service Area
- Junction Number
- A 35 Dual carriageway
- A 30 Main road
- Service area
- Toll road junction
- B 3074 Secondary road
- Narrow road with passing places
- Road under construction
- Road generally more than 4 m wide
- Road generally less than 4 m wide
- Other road, drive or track, fenced and unfenced
- Gradient: steeper than 20% (1 in 5); 14% (1 in 7) to 20% (1 in 5)
- Ferry; Ferry P – passenger only
- Path

RAILWAYS

- Multiple track; Single track – Standard gauge
- Narrow gauge, tramway or light rail system and station
- Road over; road under; level crossing
- Cutting; tunnel; embankment
- Station, open to passengers; siding

PUBLIC RIGHTS OF WAY

Not shown on maps of Scotland

- Footpath
- Bridleway
- Byway open to all traffic
- Restricted byway (not for use by mechanically propelled vehicles)

The representation on this map of any other road, track or path is no evidence of the existence of a right of way.

OTHER PUBLIC ACCESS

- Other routes with public access

The exact nature of the rights on these routes and the existence of any restrictions may be checked with the local highway authority. Alignments are based on the best information available.

- Recreational route
- National Trail
- Permissive footpath; Permissive bridleway – See note below

Footpaths and bridleways along which landowners have permitted public use but which are not rights of way. The agreement may be withdrawn.

- Traffic-free cycle route
- 1 1 National cycle network route number – traffic free; on road

BOUNDARIES

- National
- County (England)
- Unitary Authority (UA), Metropolitan District (Met Dist), London Borough (LB) or District (Scotland & Wales are solely Unitary Authorities)
- Civil Parish (CP) (England) or Community (C) (Wales)
- National Park

HISTORICAL FEATURES

✣	Site of antiquity
⚔ 1066	Site of battle (with date)
VILLA	Roman
Castle	Non-Roman
☆	Visible earthwork

Information sourced from Historic England, Historic Environment Scotland and the Royal Commission on the Ancient and Historical Monuments of Wales.

GENERAL FEATURES

- Gravel pit
- Sand pit
- Other pit or quarry
- Landfill site or slag/spoil heap
- Solar farm
- Slopes
- Place of worship
- Current or former place of worship – with tower – with spire, minaret or dome
- Building; important building
- Glasshouse
- Youth hostel
- Bunkhouse / camping barn / other hostel
- Bus or coach station
- Lighthouse; disused lighthouse
- Beacon
- Triangulation pillar
- Mast
- Windmill with or without sails
- Wind pump; wind turbine
- pylon pole Electricity transmission line

BP	Boundary post
BS	Boundary stone
CG	Cattle grid
CH	Clubhouse
FB	Footbridge
MP; MS	Milepost; milestone
Mon	Monument
PO	Post office
Pol Sta	Police station
Sch	School
TH	Town hall
NTL	Normal tidal limit
W; Spr	Well; spring

HEIGHTS AND NATURAL FEATURES

52 ·	Ground survey height
284 ·	Air survey height

Surface heights are to the nearest metre above mean sea level. Where two heights are shown, the first is the height of the natural ground in the location of the triangulation pillar, and the second (in brackets) to a separate point which is the highest natural summit.

Contours — Vertical face/cliff — Outcrop

195 200 175 180 165 150 150

5m 10m Scree Loose rock Boulders

- Water; mud
- Sand; sand and shingle

VEGETATION

Vegetation limits are defined by positioning of symbols

- Coniferous trees
- Non-coniferous trees
- Coppice
- Orchard
- Scrub
- Bracken, heath or rough grassland
- Marsh, reeds or saltings

ACCESS LAND

- DANGER AREA – Firing and test ranges in the area. Danger! Observe warning notices
- MANAGED ACCESS – Access permitted within managed controls, for example, local byelaws.

England and Wales

- Access information point
- Access land
- Access land in wooded area
- within sand
- Coastal margin

Portrayal of access land on this map is intended as a guide to land normally available for access on foot, for example access land created under the Countryside and Rights of Way Act 2000, and land managed by the National Trust, Forestry Commission, Woodland Trust and Natural Resources Wales.

Access for other activities may also exist. Some restrictions will apply; some land will be excluded from open access rights.

The depiction of rights of access does not imply or express any warranty as to its accuracy or completeness. Observe local signs and follow the Countryside Code.

Scotland

- National Trust for Scotland, always open
- National Trust for Scotland, limited access – observe local signs
- Forestry and Land Scotland, normally open – observe local signs
- Woodland Trust Land

In Scotland, everyone has access rights in law (Land Reform Scotland Act 2003) over most land and inland water, provided access is exercised responsibly . **This includes walking, cycling, horse- riding and water access, for recreational and educational purposes, and for crossing land or water.** Access rights do not apply to motorised activities, hunting, shooting or fishing, nor if your dog is not under proper control.

TOURIST AND LEISURE INFORMATION

- Building of historic interest
- Boat hire
- Boat trips
- Cadw (Welsh heritage)
- Camp site or Caravan site
- Castle or fort
- Cathedral or abbey
- Craft centre
- Country park
- Cycle hire
- Cycle trail
- English Heritage
- Fishing
- Forestry Commission visitor centre
- Garden or arboretum
- Golf course or links
- Historic Scotland
- Horse riding
- Information centre, seasonal
- Museum
- Mountain bike trail
- Nature reserve
- National Trust
- Other tourist feature
- P P&R P&R Parking / Park and ride, all year / seasonal
- Phone; public, emergency
- Picnic site
- Preserved railway
- Public house(s)
- Public toilets
- Recreation, leisure or sports centre
- Slipway
- Theme or pleasure park
- Viewpoint
- Visitor centre
- Walks or trails
- Water activities (board)
- Water activities (paddle)
- Water activities (powered)
- Water activities (sailing)
- Watersports centre (multi-activity)
- World Heritage site or area

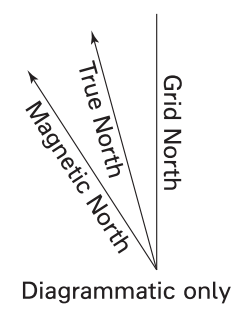
Grid North
True North
Magnetic North

Diagrammatic only

Scale 1: 25 000

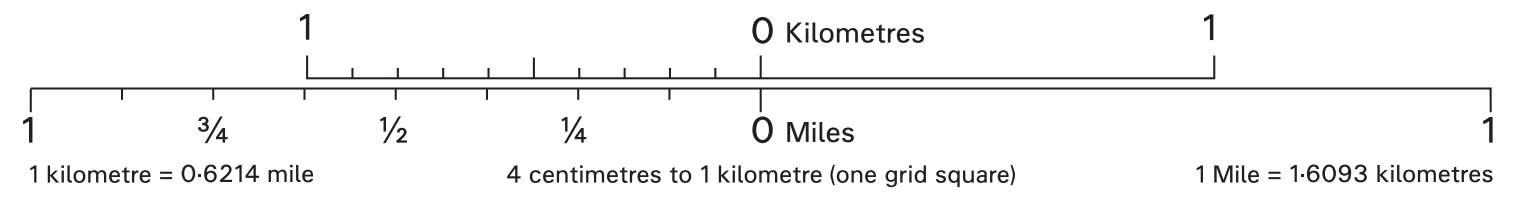
1
0 Kilometres
1
1
¾
½
¼
0 Miles
1

1 kilometre = 0·6214 mile — 4 centimetres to 1 kilometre (one grid square) — 1 Mile = 1·6093 kilometres

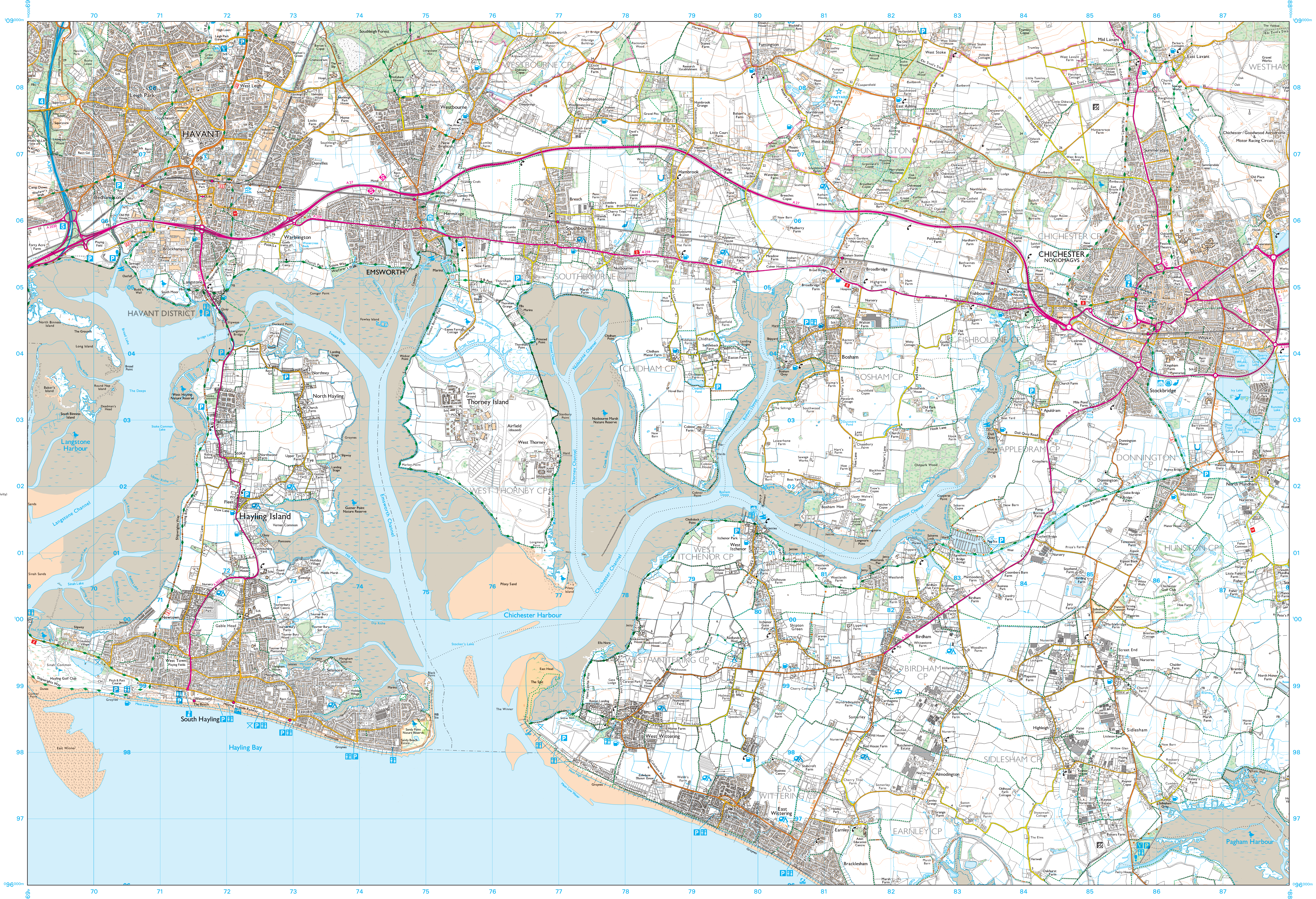
⁴69⁰⁰⁰ᵐ
⁴88⁰⁰⁰ᵐ
¹09⁰⁰⁰ᵐ
⁰96⁰⁰⁰ᵐ
70
71
72
73
74
75
76
77
78
79
80
81
82
83
84
85
86
87
08
07
06
05
04
03
02
01
00
99
98
97
HAVANT
EMSWORTH
HAVANT DISTRICT
Hayling Island
South Hayling
Hayling Bay
Langstone Harbour
Chichester Harbour
Thorney Island
WEST THORNEY CP
SOUTHBOURNE CP
Southbourne
WESTBOURNE CP
Westbourne
FUNTINGTON CP
Funtington
CHICHESTER
NOVIOMAGVS
CHICHESTER CP
CHIDHAM CP
BOSHAM CP
Bosham
FISHBOURNE CP
APPLEDRAM
DONNINGTON CP
WEST ITCHENOR CP
WEST WITTERING CP
West Wittering
EAST WITTERING CP
East Wittering
BIRDHAM CP
Birdham
EARNLEY CP
SIDLESHAM CP
Sidlesham
HUNSTON CP
Hunston
Pagham Harbour
WESTHAMPNETT
East Lavant
Mid Lavant
Warblington
Langstone
Emsworth Channel
Chichester Channel
Langstone Channel
Leigh Park
Bedhampton
North Hayling
Stockbridge
Chichester / Goodwood Aerodrome & Motor Racing Circuit

Extract produced by Ordnance Survey Limited 2022.
© Crown copyright 2023. All rights reserved.

Ordnance Survey, OS, OS logos and Explorer are registered trade marks of Ordnance Survey Limited, Britain's mapping agency.
Reproduction in whole or in part by any means is prohibited without the prior written permission of Ordnance Survey Limited. **For educational use only.**

Looking for more resources? Visit scotpapers.com - Scotland's #1 Past Paper Archive